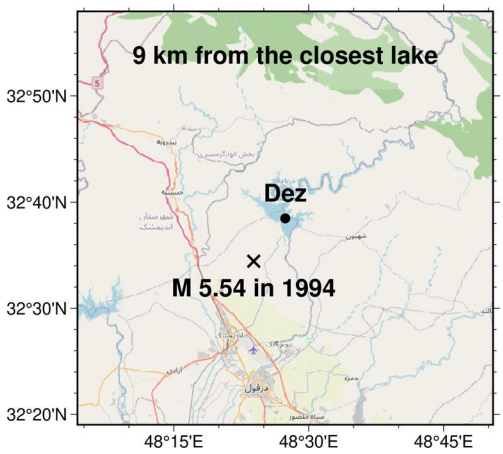
9 km from the closest lake
Dez
M 5.54 in 1994
32°50'N
32°40'N
32°30'N
32°20'N
48°15'E
48°30'E
48°45'E

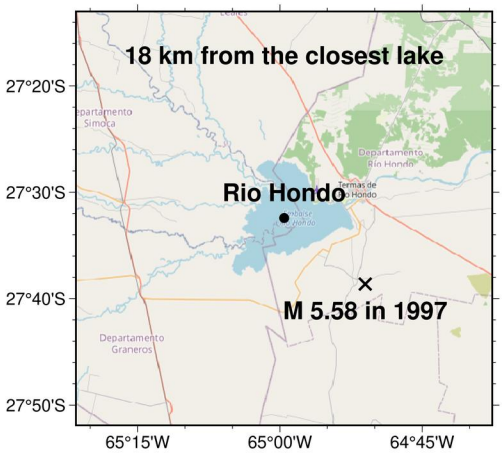
18 km from the closest lake
Rio Hondo
M 5.58 in 1997
27°20'S
27°30'S
27°40'S
27°50'S
65°15'W
65°00'W
64°45'W

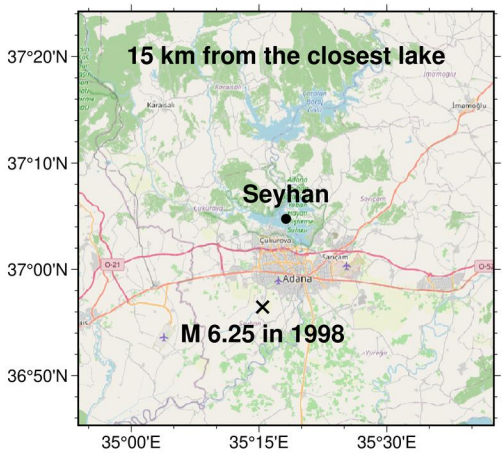
15 km from the closest lake
Seyhan
M 6.25 in 1998
37°20'N
37°10'N
37°00'N
36°50'N
35°00'E
35°15'E
35°30'E

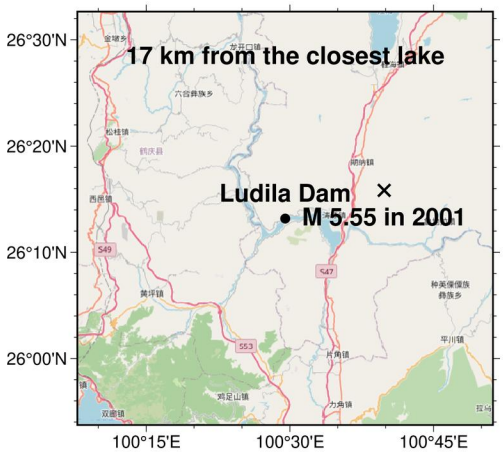
17 km from the closest lake
Ludila Dam
M 5.55 in 2001
26°30'N
26°20'N
26°10'N
26°00'N
100°15'E
100°30'E
100°45'E

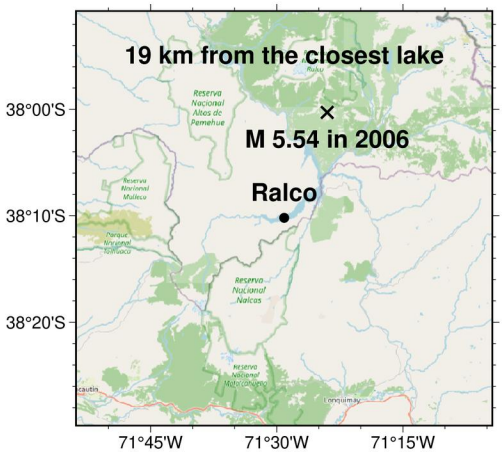
19 km from the closest lake
M 5.54 in 2006
Ralco
38°00'S
38°10'S
38°20'S
71°45'W
71°30'W
71°15'W

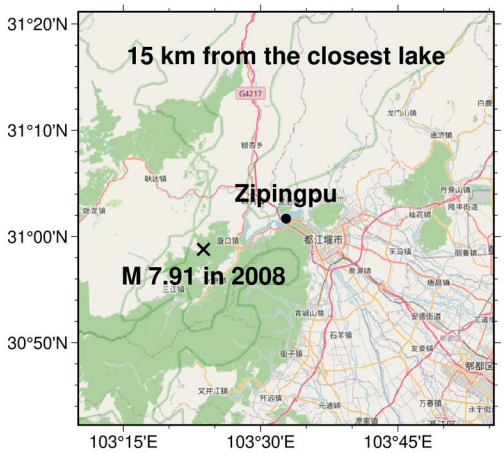
15 km from the closest lake
Zipingpu
M 7.91 in 2008
31°20'N
31°10'N
31°00'N
30°50'N
103°15'E
103°30'E
103°45'E

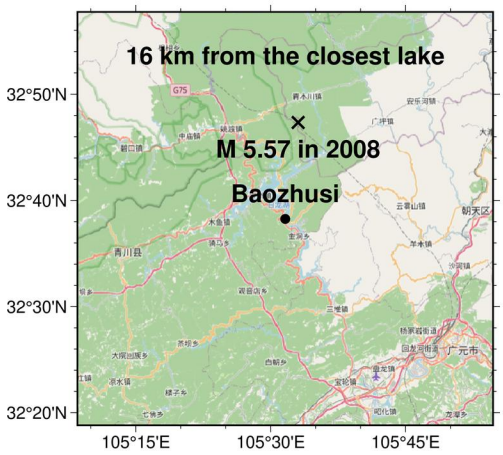
16 km from the closest lake
M 5.57 in 2008
Baozhusi
32°50'N
32°40'N
32°30'N
32°20'N
105°15'E
105°30'E
105°45'E

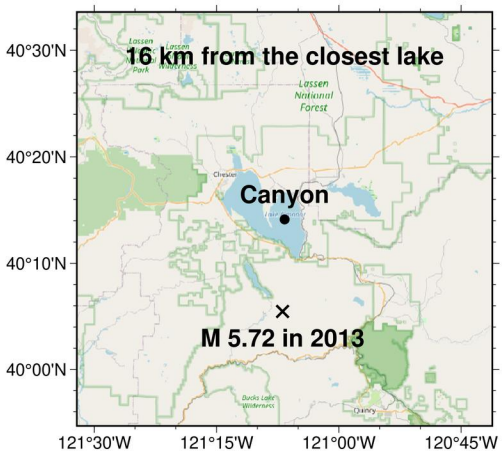
16 km from the closest lake
Canyon
M 5.72 in 2013
40°30'N
40°20'N
40°10'N
40°00'N
121°30'W
121°15'W
121°00'W
120°45'W

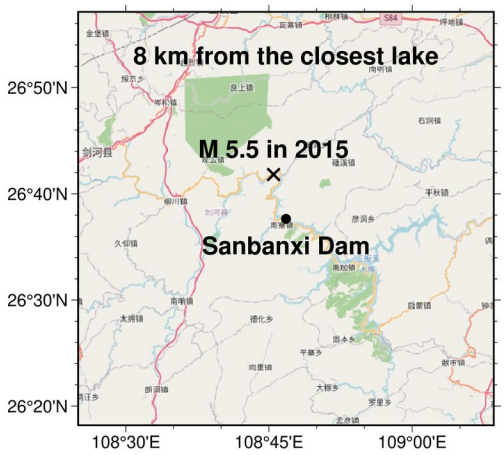
8 km from the closest lake
M 5.5 in 2015
Sanbanxi Dam
26°50'N
26°40'N
26°30'N
26°20'N
108°30'E
108°45'E
109°00'E

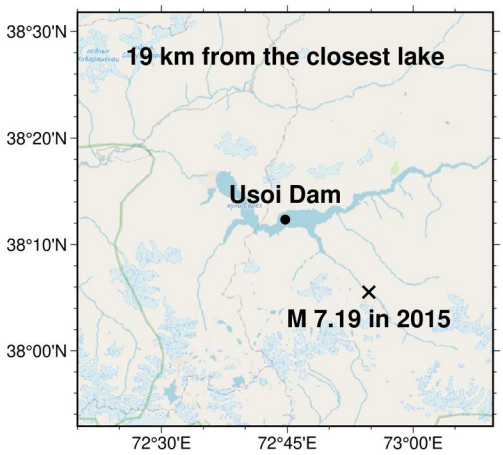
19 km from the closest lake
Usoi Dam
M 7.19 in 2015
38°30'N
38°20'N
38°10'N
38°00'N
72°30'E
72°45'E
73°00'E

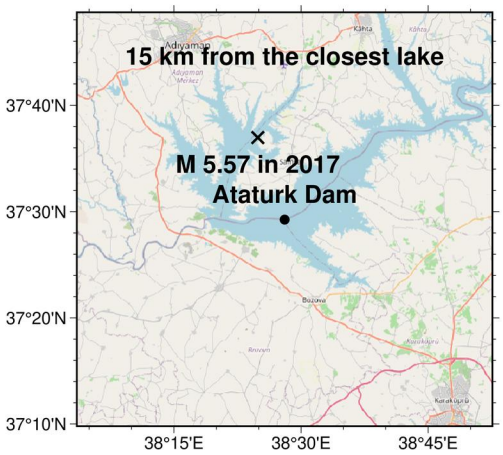
15 km from the closest lake
M 5.57 in 2017
Ataturk Dam
37°40'N
37°30'N
37°20'N
37°10'N
38°15'E
38°30'E
38°45'E

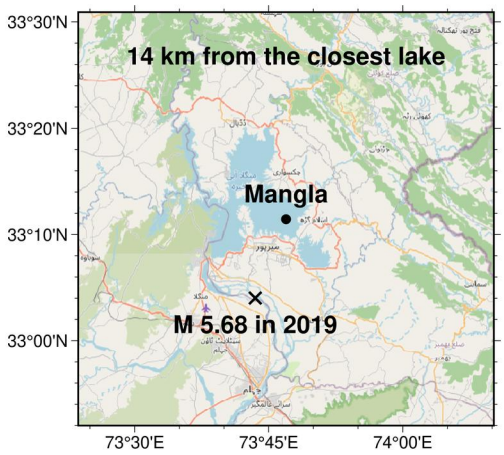
14 km from the closest lake
Mangla
M 5.68 in 2019
33°30'N
33°20'N
33°10'N
33°00'N
73°30'E
73°45'E
74°00'E

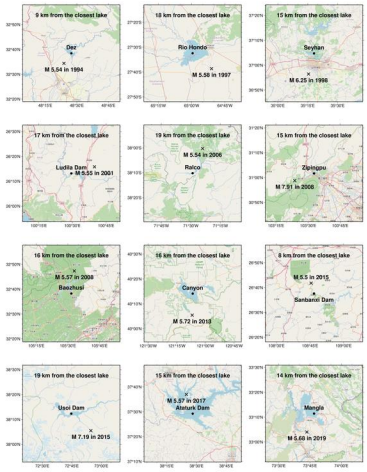
9 km from the closest lake
Dez
M 5.54 in 1994
18 km from the closest lake
Rio Hondo
M 5.58 in 1997
15 km from the closest lake
Seyhan
M 6.25 in 1998
17 km from the closest lake
Ludila Dam
M 5.55 in 2001
19 km from the closest lake
M 5.54 in 2006
Raco
15 km from the closest lake
Zipingpu
M 7.91 in 2008
16 km from the closest lake
M 5.57 in 2008
Baozhusi
16 km from the closest lake
Canyon
M 5.72 in 2010
8 km from the closest lake
M 5.5 in 2015
Sanbanxi Dam
19 km from the closest lake
Usoi Dam
M 7.19 in 2015
15 km from the closest lake
M 5.97 in 2017
Ataturk Dam
14 km from the closest lake
Mangla
M 5.66 in 2019